WINSOMERESOURCES

ASX: WR1 | FSE: 4XJ | OTCQB: WRSLF

ASX RELEASE | 20 February 2025

High Grade Cesium confirmed at Sirmac-Clapier

HIGHLIGHTS

- More precise analysis of high grade cesium samples from the new discovery at Winsome's Sirmac-Clapier Project has confirmed the tenor of mineralisation.
- Channel sampling results for Channel 2 updated to:
  - 26m at 2.69% Li_2O + 1.15% Cs_2O
    including 4m at 3.08% Cs_2O and 4m at 2.23% Cs_2O
- Assays up to 5.44% Cs_2O and 2.92% Cs_2O, associated with high grade lithium mineralisation (1.33% Li_2O and 2.33% Li_2O respectively).
- Winsome has increased its Sirmac landholding, adding a further 12 claims.
- Sirmac-Clapier project lies 30km from existing road and rail infrastructure.
- Further work to be carried out in 2025 including additional mapping and drill testing.

Lithium explorer and developer Winsome Resources (ASX:WR1; "**Winsome**" or "**the Company**") is pleased to announce the analysis of previously reported outcrop samples from its Sirmac-Clapier Project (**Sirmac**) in the Eeyou Istchee James Bay region of Quebec, Canada have confirmed the presence and tenor of very high grade cesium mineralisation.

Exploration discovered a new, outcropping, high-grade spodumene-bearing pegmatite at Sirmac (refer ASX Announcement 10 February 2025). Assay results from systematic channel sampling identified the presence of high grade cesium mineralisation in addition to lithium mineralisation.

Cesium assays previously reported were constrained by an upper detection limit of 25,000ppm Cs. Further analysis of selected samples which had originally assayed greater than 10,000ppm Cs has now been completed and has both confirmed the presence of very high grade cesium and provided more precise analyses of the cesium content of these samples as shown in Appendix 1.

While the average cesium intersection across the outcrop has not increased significantly the more precise analysis has enabled two high cesium zones to be better delineated within Channel 2, with assays of 4m at 3.08% Cs_2O + 1.27% Li_2O and 4m at 2.23% Cs_2O + 2.13% Li_2O (refer Table 1 below).

The presence of very high grade cesium mineralisation is of interest given the scarcity of cesium across the world. Only 3 deposits have been mined to date, including the Sinclair Mine in Western Australia, and there are limited development projects globally. One of these is the Case Lake Project in northeastern Ontario owned by Power Metals Corp (TSX-V.PWM), with Winsome owning a 19.6% stake in Power Metals, valued at approximately A$35m, and the offtake rights to lithium, tantalum and cesium products.

Addition of New Claims

Following the identification of outcropping mineralisation at Sirmac a further 12 claims in the project area were added through low cost staking. This expands the landholding at Sirmac to 41.3km^2 (Figure 1)

Sirmac is located 30km from provincial road infrastructure and also located 40km from the Moblan Lithium Deposit owned by Sayona (ASX.SYA). The regional centres of Chibougamau and Chapais, along with access to the rail network, are approximately 100km south of the project (Figure 3). Significantly, Sirmac is approximately 600km from the processing infrastructure at the Renard Operation by road. Winsome has an option over the Renard Operation as detailed in the ASX Announcements of 3 April 2024 and 4 December 2024.

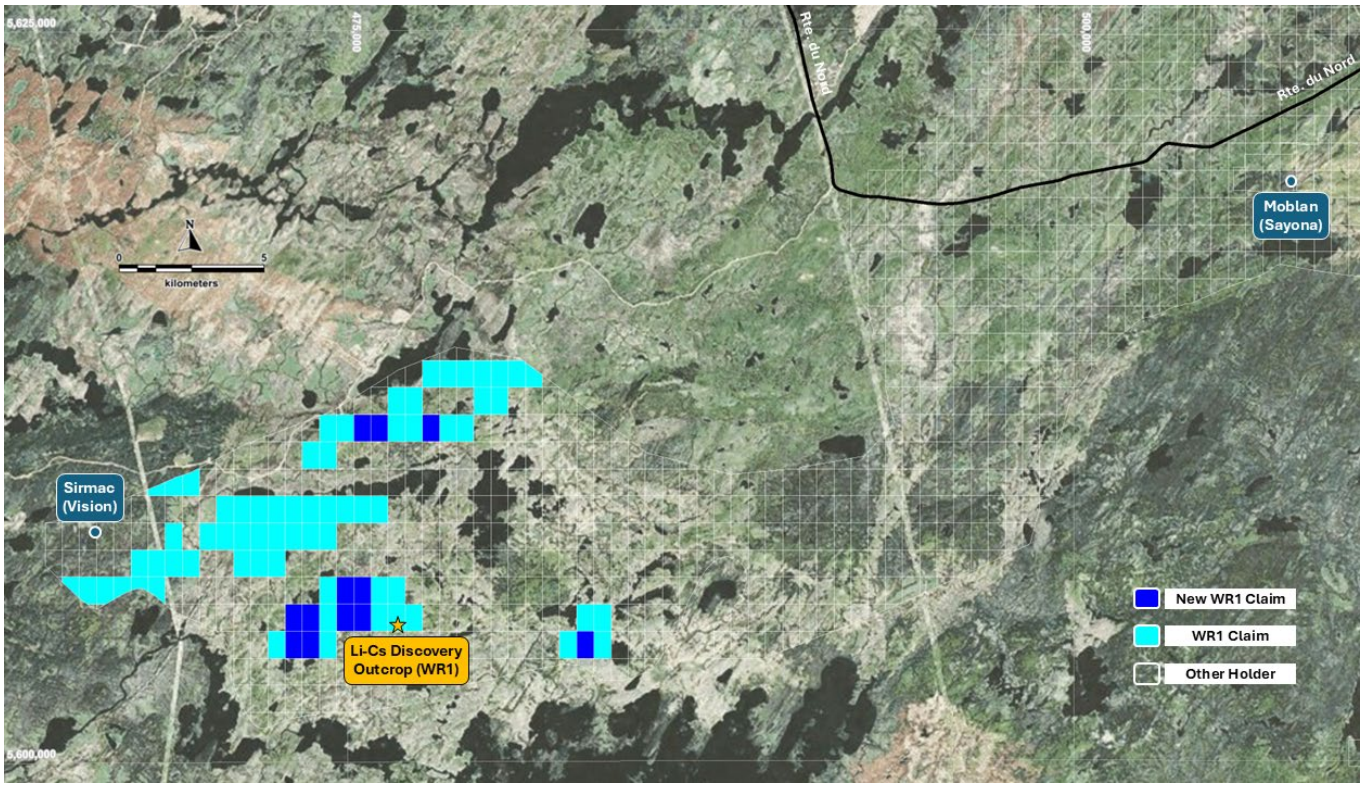

Figure 1: Claims comprising the Sirmac-Clapier Project, including newly acquired claims.

***Table 1**. Updated Results from Channel Sampling at Sirmac-Clapier*

Channel	***Intercepts***	***Orientation***
Channel1	1.74% Li_2O, 0.26% Cs_2O and 262ppm Ta_2O_5 over 16m	East - West
Channel2	2.69% Li_2O, 1.15% Cs_2O and 401ppm Ta_2O_5 over 26m including 1.27% Li_2O and 3.08% Cs_2O over 4m including 2.13% Li_2O and 2.23% Cs_2O over 4m	North - South
Channel3	1.70% Li_2O, 0.43% Cs_2O and 282ppm Ta_2O_5 over 19m	East - West
Channel4	0.78% Li_2O, 0.19% Cs_2O and 95ppm Ta_2O_5 over 16m	East - West

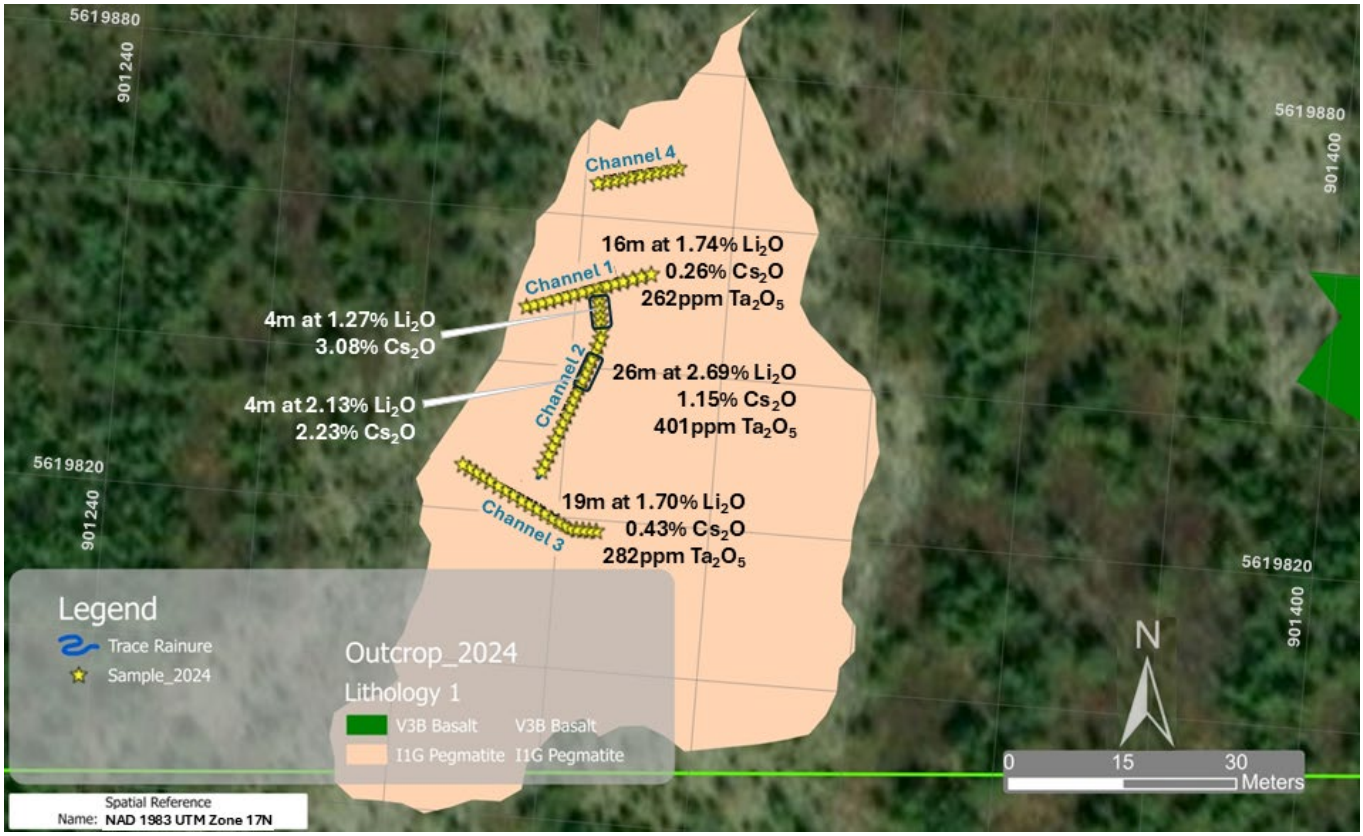

Figure 2: Plan showing channel sampling at Sirmac.

This announcement is authorised for release by the Board of Winsome Resources Limited.

For further information please contact:

INVESTORS

Chris Evans - Managing Director
Winsome Resources

administration@winsomeresources.com.au

MEDIA

Luke Derbyshire – Managing Director
Spoke

luke@hellospoke.com.au

+61 488 66 42 46

-ends-

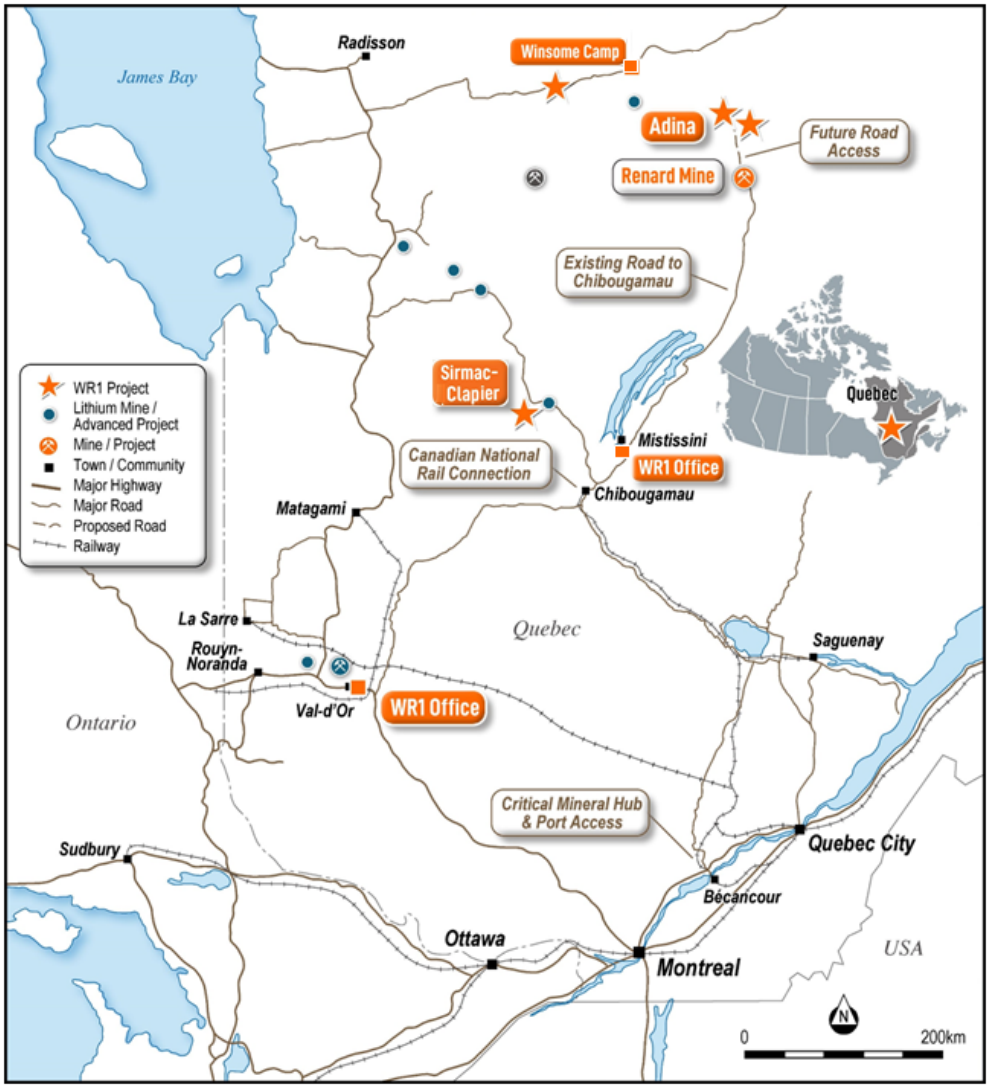

Figure 3: Location of Sirmac-Clapier Project.

ABOUT WINSOME RESOURCES

Winsome Resources (ASX: WR1) is a Canadian focused exploration and development company with several projects in the Eeyou Istchee James Bay region of Québec.

Our flagship project is Adina, a 100% owned lithium resource considered a tier-one asset in a low-risk mining jurisdiction and one of the most capital efficient projects in North America with competitive operating costs. The hard rock spodumene lithium deposit is near surface with a +20 year project life and a Mineral Resource of 78Mt at 1.15% Li_2O comprising 79% classified as 'Indicated' and 21% classified as 'Inferred'. (Appendix 2)

The Company recently acquired an exclusive option to purchase the Renard Operation, a mining and processing site located approximately 60 kilometres south (in a straight line) of Adina.

The Renard Operation has an established airport, power station, water treatment plant, workshops, processed mineralised material storage and a substantial camp. It also has several mineral processing and operating permits which may advance Winsome's pathway to lithium production.

Importantly Renard already includes extensive production facilities which consists of a primary jaw crusher, secondary cone crusher, high-pressure grinding rolls, ore sorting, and DMS circuits necessary for lithium processing and spodumene concentrate production.

In addition to our portfolio of lithium projects in Québec- Adina, Cancet, Sirmac-Clapier and Tilly - Winsome Resources owns 100% of the offtake rights for lithium, caesium and tantalum from the Case Lake Project in Eastern Ontario owned by Power Metals Corp (TSXV:PWM), as well as a 19.6% equity stake in PWM.

Winsome is led by a highly qualified team with strong experience in lithium exploration and development as well as leading ASX listed companies. **More details:** www.winsomeresources.com.au

CAUTION REGARDING FORWARD-LOOKING INFORMATION

This document contains forward-looking statements concerning Winsome. Forward-looking statements are not statements of historical fact and actual events and results may differ materially from those described in the forward-looking statements as a result of a variety of risks, uncertainties and other factors. Forward-looking statements are inherently subject to business, economic, competitive, political and social uncertainties and contingencies. Many factors could cause the Company's actual results to differ materially from those expressed or implied in any forward-looking information provided by the Company, or on behalf of, the Company. Such factors include, among other things, risks relating to additional funding requirements, metal prices, exploration, development and operating risks, competition, production risks, regulatory, including environmental regulation and liability and potential title disputes.

Forward-looking statements in this document are based on the Company's beliefs, opinions and estimates of Winsome as of the dates the forward-looking statements are made, and no obligation is assumed to update forward-looking statements if these beliefs, opinions and estimates should change or to reflect other future developments.

COMPETENT PERSON'S STATEMENT

The information in this announcement relating to Exploration Results on Sirmac-Clappier is based on, and fairly represents, information and supporting documentation prepared by Mr Carl Caumartin, GM Canada of Winsome Resources Ltd. Mr Caumartin is a member of the Ordre des Ingénieurs du Quebec (Quebec Order of Engineers) (OIQ 45588), a Registered Overseas Professional Organisation as defined in the ASX Listing Rules, and has sufficient experience which is relevant to the style of mineralisation and type of deposits under consideration and to the activity which has been undertaken to qualify as a Competent Person as defined in the 2012 Edition of the "Australasian Code for Reporting of Exploration Results, Mineral Resources and Ore Reserves" (**JORC Code**). Mr Caumartin consents to the inclusion in this release of the matters based on the information in the form and context in which they appear.

PREVIOUSLY ANNOUNCED EXPLORATION RESULTS & MINERAL RESOURCES

Winsome confirms it is not aware of any new information or data which materially affects the information included in the original market announcements referred to in this announcement. Winsome confirms the form and context in which the Competent Person's findings are presented have not been materially modified from the original market announcements.

Winsome confirms it is not aware of any new information or data as at the date of this release which materially affects the Mineral Resource or the Scoping Study for Adina. The Company also confirms all material assumptions and parameters underpinning the Mineral Resource estimate and the Scoping Study continue to apply and have not materially changed. Winsome confirms the form and context in which the Competent Person's findings are presented have not been materially modified from the original market announcements.

Appendix 1: Sirmac Project – Assay results from re-analysis of high grade samples

Sample	Cs Analysis 1 (ppm)	Cs Analysis 1 (%)	Cs Analysis 2 (%)
D00403221	25000*	2.50	2.83
D00403222	15738.3	1.57	1.78
D00403223	25000*	2.50	5.44
D00403224	20825.4	2.08	2.28
D00403229	15090.7	1.51	1.69
D00403233	23195.4	2.32	2.49
D00403234	25000*	2.50	2.92
D00403236	23471.5	2.35	2.55
D00403246	22488.5	2.25	2.43

* Cs content greater than upper detection limit (25,000ppm Cs)

APPENDIX 2: Mineral Resources at the Adina Lithium Project stated under the JORC Code

Zone	Indicated			Inferred			Total		
	Tonnes (Mt)	Li_2O (%)	Contained LCE (Mt)	Tonnes (Mt)	Li_2O (%)	Contained LCE (Mt)	Tonnes (Mt)	Li_2O (%)	Contained LCE (Mt)
MZ	28.4	1.19	0.84	8.7	1.39	0.26	**37.1**	**1.23**	**1.10**
FWZ	33.0	1.10	0.90	7.8	0.98	0.19	**40.8**	**1.08**	**1.08**
Total	**61.4**	**1.14**	**1.73**	**16.5**	**1.19**	**0.49**	**77.9**	**1.15**	**2.21**

JORC Code, 2012 edition Table 1

Section 1 Sampling Techniques and Data

(Criteria in this section apply to all succeeding sections.)

Criteria	***Explanation***
Sampling techniques	• Channel sampling across outcropping pegmatite dyke. • Channels are approximately 5-10cm wide and cut with diamond saw to approx. 5-10cm depth. Sampling is done on approximately a 1m basis resulting in sample weight of 1- 2 kgs. • Samples from Sirmac were sent to MSALABS Inc under standard preparation procedures. Pulps from Cs samples which assayed > 10,000ppm Cs were re assayed at SGS.
Drilling techniques	• No drilling is being reported.
Drill sample recovery	• No drilling is being reported. • Sample recovery from the channels was adequate.
Logging	• Features such as rock type, mineralogy, textures, alteration were recorded from the channel samples.
Sub-sampling techniques and sample preparation	• Best attempts were made to ensure the channel sampling was representative of the outcropping material however it should be noted outcrop and surface sampling is generally not representative. • Samples are crushed, milled and split at the laboratory (MSA) to achieve a 250g sub-sample for assay. Laboratory QC procedures for sample preparation include quality control on checks crushing and milling to ensure representivity.
Quality control & Quality of assay data and laboratory tests	• Assay and laboratory procedures have been selected following a review of techniques provided by laboratories in Canada. MSA Laboratories is an internationally certified independent service providers. Industry standard assay quality control techniques were used for lithium related elements. • Samples were submitted for multi-element ICP analysis by MSA Laboratories which is an appropriate technique for high-grade lithium analysis. Sodium Peroxide Fusion is used followed by combined ICP-AES and ICP-MS analyses (56 elements). • Cs samples with contents higher than 10,000ppm Cs were submitted to SGS for re-analysis using borate fusion XRF. • Li is reported by the lab and converted to Li_2O for reporting using a factor of 2.153. Cs is reported by the lab and converted to Cs_2O for reporting using a factor of 1.06 • No handheld instruments were used for analysis. • Comparison of results with standards indicate sufficient quality in data. No external laboratory checks have been used but are planned to be completed shortly.

Criteria	Explanation
	• Different grades of certified reference material (CRM) for lithium mineralisation were inserted, as well as field duplicates, and blanks. The CRMs submitted represented a weakly mineralised pegmatite (OREAS 750), and a moderate lithium mineralised pegmatite (AMIS 0341) to high grade lithium mineralised pegmatite (OREAS 752 & 753). Quality Assurance and Quality Control utilised standard industry practice, using prepared standards, field blanks (approximately 0.4 kg), duplicates sampled in the field and pulp duplicates at the lab. • CRMs were submitted at a rate of approximately 20%, whereas blanks, duplicates and repeat assay determinations were submitted at a rate of approximately 5%.
Verification of sampling and assaying	• Intersections have been estimated by consultants to the company and cross checked. • Data is entered into and validated on an electronic database (MX Deposit), which is maintained by Winsome on site in Eeyou Istchee James Bay and backed up regularly by the Company's IT consultants in Val D'Or. • Data verification is carried out by the Project Geologist on site, and a final verification was performed by the Senior Geologist and the geologist responsible for database management. An independent verification is carried out by consultants to the company. • No assays have been adjusted. A factor of 2.153 has been applied to the reported Li assays by the laboratory so to report as Li_2O. A factor of 1.06 has been applied to the reported Cs assays by the laboratory so to report as Cs_2O.
Location of data points	• The channel samples have been located by hand-held GPS (Trimble) with ~1m accuracy. • The grid datum is NAD83. Zone 18N. • Topographic elevation and landmarks are sourced from a Digital Elevation Model obtained from Lidar surveys performed over the property. Government topographic maps have been used for topographic validation. The GPS is otherwise considered sufficiently accurate for elevation data.
Data spacing and distribution	• Early exploration so data spacing and distribution is not yet relevant. • No assessment has been made regarding the channel sampling with respect to resources or reserve estimation.
Orientation of data in relation to geological structure	• The orientation of the pegmatite is not yet known; accordingly channels were cut perpendicular to avoid and sampling bias.
Sample security	• The company takes full responsibility on the custody of the samples including the sampling process itself and transportation. • Samples are shipped during the weekly supply run and delivered directly to the respective laboratories.

Criteria	***Explanation***
Audits or reviews	• No external audit of the database has been completed, apart from by consulting geologists acting on behalf of the company.

Section 2 Reporting of Exploration Results

(Criteria in the preceding section also apply to this section.)

Criteria	***Explanation***
Mineral tenement and land tenure status	• The Sirmac-Clapier Project is 100% owned by Winsome. • All tenements are in good standing and have been legally validated by a Quebec lawyer specialising in the field.
Exploration done by other parties	• Government mapping records multiple lithium bearing pegmatites within the project areas with only regional data available.
Geology	• The mineralisation encountered at the Sirmac project is typical of a Lithium-Caesium-Tantalum (LCT) type of pegmatite. The pegmatite body is intruded into mafic volcanic rocks.
Drill hole Information	• No drilling is being reported.
Data aggregation methods	• No sample weighting or metal equivalent values have been used in reporting. • Aggregation issues are not considered material at this stage of project definition. No metal equivalent values were used
Relationship between mineralisation widths and intercept lengths	• The widths presented are not true widths.
Diagrams	• See figures and maps provided in the text of the announcement.
Balanced reporting	• Winsome Resources Ltd will endeavour to produce balanced reports accurately detailing all results from any exploration activities. • All samples and intersections have been presented in this announcement and in previous announcements.
Other substantive exploration data	• All substantive exploration data has been included in previous ASX Announcements. No other substantive exploration data is available at this time.
Further work	• Winsome Resources Ltd continues to complete further site investigations. • Further work planned includes comprehensive data interpretation, field mapping and exploration drilling.